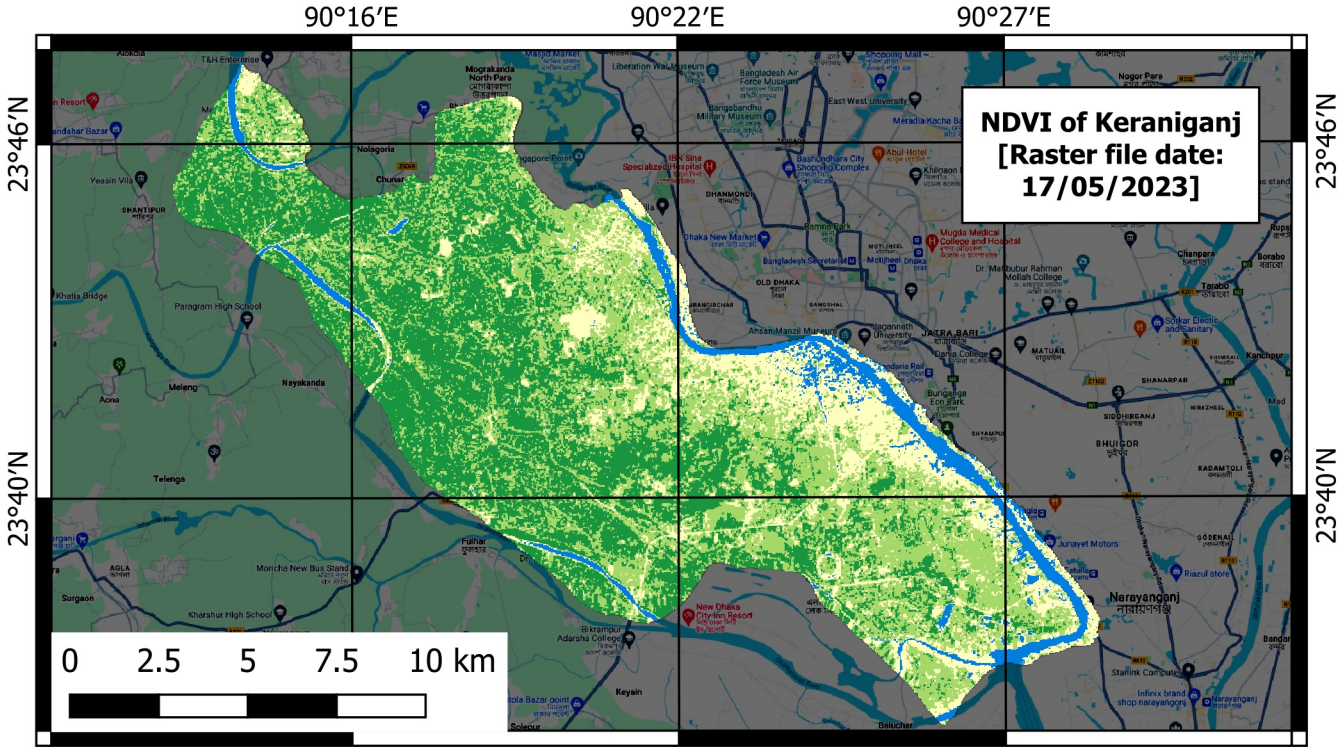

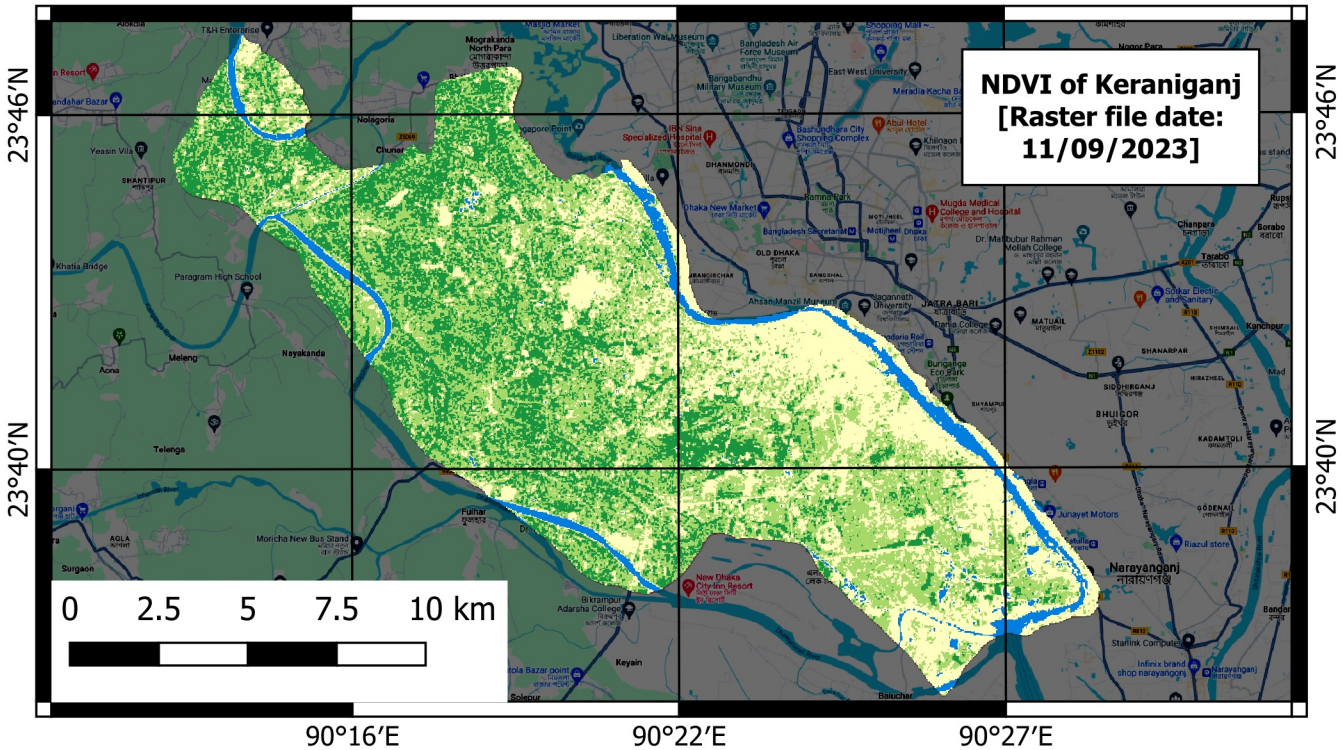

Location Map

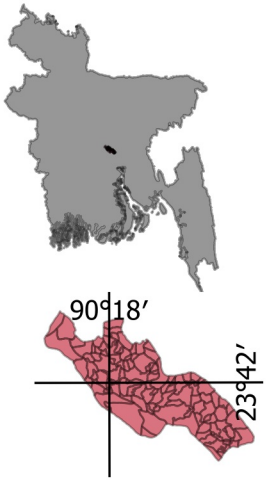



Legends

Keraniganj_NDVI23_05_17

Discrete

- Water body
- 0.0896 - 0.2000
- 0.2000 - 0.3000
- > 0.3000

Keraniganj_NDVI23_09_11

Discrete

- Water body
- 0.0133 - 0.2000
- 0.2000 - 0.3000
- > 0.3000

- Bangladesh
- Keraniganj_ Administrative_ Boundary_(BUTM2010)

Designed by:

Name: Md. Shahlan Kabir
Id Number: 20105016
Session: Fall 23

Data Source:
1. LGED (for Keraniganj Administration boundary)
2. USGS (for Ladnsat 8 images)

Projection (CRS): BUTM2010

Descrpition:A Normalized Difference Vegetation Index (NDVI) map is created using two separate satellite images captured four months apart to monitor vegetation changes.